ASSIGNMENT 2

EVENT CHOSEN: JAMMU AND KASHMIR FLOODS 2014

DISTRICT IN FOCUS: ANANTNAG

COURSE NAME:

ENVIRONMENTAL AND SUSTAINABILITY ANALYTICS

COURSE CODE: ECCSS 20

SUBMITTED TO:

DR. KAMAL KUMAR MURARI

SUBMITTED BY: ANSHUMAN SINGH

ROLL NO.: M2024ECCSS003

INDEX

S.No.	Title	Page No.
1	Introduction	*3*
2	Methodology	*8*
3	Analysis and Results	*10*
5	Conclusion	*18*
6	References	*20*
ANNEXURES (R Plot 1, R Plot 2, and R Codes for the Plots)		

1. INTRODUCTION

Floods are among the most frequent and catastrophic natural disasters occurring around the globe (Berz et al. Citation2001) and seriously impacting human lives and infrastructure. Due to poor socio-economic conditions, inadequate warning systems and preparedness, floods have a greater impact in the developing countries. Natural hazards, in the form of floods and debris flows, are a major threat to the people living in the high mountain regions (Watson & Haeberli Citation2004). This led me to choose the ***2014 Jammu and Kashmir Floods*** as the Flod event for my analysis.

In September 2014, the Jammu and Kashmir region of India experienced one of the most devastating flood events in its history, often referred to as "***The Great Flood***." This catastrophic event was primarily triggered by continuous heavy rainfall from September 3 to September 7, which coincided with the last stages of the southwest monsoon. The floods resulted in widespread devastation across the Kashmir Valley, affecting both urban and rural areas.

The incessant rains led to the Jhelum River overflowing its banks, inundating approximately 853 km² of land, including residential areas and agricultural fields (Romshoo et al., 2018). The flooding was particularly severe in Srinagar, where around 100 km² of the city was submerged, affecting 998 mohallas and colonies across 59 wards (Malik & Hashmi, 2020). The floods displaced over one million people, with more than 3,000 villages affected (Carpenter et al., 2020). The human toll included numerous casualties and significant disruptions to daily life.

Jammu and Kashmir is a mid-size state situated in the northern part of India. According to the 2011 state census, there are 6,651 villages, 104 urban areas and 8 urban agglomerations in the state. These villages and towns are distributed in 22 districts and 82 sub-districts. The population of the state was recorded at 1.25 crores or 12.25 million. The floods directly affected more than 2,600 villages in the state and submerged 30 per cent of the urban areas. Out of the 2,600 villages, almost 400 villages were completely submerged and 2,225 partially submerged with more than 300 villages completely cut off (inaccessible). In the urban areas, the water levels rose up to 20 feet whereas many villages were cut off due to the destruction of the only bridges and roads leading into these villages. The continuous bad weather made rescue operations almost impossible for the first few days, and the government struggled to make an appearance to help the people.

In terms of districts, 10 out of the 22 districts were badly hit with the districts in South Kashmir experiencing severe devastation. **Anantnag**, Kulgam, Shopian, and Pulwama (all South Kashmir) districts were completely inundated and rendered inaccessible. More than 5 million people were severely affected by the catastrophic event while electricity and communication were completely shut down making it nearly impossible to coordinate, evacuate and rescue.

Anantnag district was selected as the geographic focus of this analysis for several substantive reasons that extend beyond convenience.

- **Hydrologic Centrality**:

Anantnag district contains the Sangam gauging station—the primary hydrologic monitoring point for the Jhelum River system. The Jhelum River's confluence with multiple major tributaries (Lidder, Bringi, Sandran, Vishaw, Kuthar, and Arpal) occurs near Sangam in Anantnag district. This geographic position makes Anantnag the natural integrating zone for understanding catchment-scale runoff generation, as **all flood discharge from the upper Jhelum Basin (area ~13,000 km²) passes through Sangam before flowing northward into Srinagar and the Kashmir Valley floodplain**. Consequently, Anantnag serves as a hydrologic cross-section representing the integrated response of the entire southern basin to rainfall forcing.

- **Flood Impact Severity**:

Anantnag experienced the **maximum flood inundation within Kashmir Valley, with 153,140 acres (620 km²) directly affected by floodwaters**, representing the largest single-district inundated area[2][10]. Within Anantnag, **21,053 residential structures were damaged, and 159,507 individuals were directly affected by flooding**, proportionally exceeding damage in larger but more dispersed districts. The district's geographic position at the valley constriction point, where the Jhelum emerges from the mountain reach into the wider floodplain, meant that the **accumulated discharge from tributary confluences compressed into the narrow channel section**, creating particularly severe local flood depths and inundation extent

- **Data Availability**:

The district's location at a gauging station with continuous discharge measurement ensures **reliable instrumental hydrologic data for ground-truthing TRMM-derived rainfall estimates**. The Sangam station's discharge records, maintained by the Jammu and Kashmir

Irrigation and Flood Control Department, provide hourly measurements of peak discharge that can be directly correlated with TRMM rainfall inputs, enabling **rigorous validation of satellite precipitation products and calibration of rainfall-runoff relationships**.

- **Methodological Tractability**:

From a practical research perspective, Anantnag's relatively circumscribed geographic area (~3,955 km²) and moderate population density enable **comprehensive assessment of spatial rainfall variability using TRMM's 0.25° grid cells**, whereas attempting similar analysis across the entire Jammu and Kashmir state would involve analytical complexity and data integration challenges disproportionate to an assignment-level study. The focused geographic scope allows for **detailed quantitative analysis of 4-6 TRMM grid cells directly over Anantnag**, compared to >100 grid cells for the entire state.

From a scientific methodology perspective, the 2014 event occurred within the era of advanced satellite-based precipitation monitoring. The **Tropical Rainfall Measurement Mission (TRMM) satellite constellation**, operational since 1997, provided **near-real-time 3-hourly gridded precipitation estimates at 0.25° spatial resolution (approximately 25 km)** across the Jhelum Basin and surrounding regions. This satellite precipitation data facilitated detailed quantitative analysis of rainfall patterns that would have been impossible in earlier flood events, when ground-based gauge networks were sparse or non-existent. Consequently, the 2014 flood represents the first major Kashmir Valley flood event to be comprehensively documented through satellite-based precipitation products.

Date of Peak Rainfall	September 4, 2014
Maximum Daily Rainfall (TRMM)	104.0 mm
Critical Flood Event Period	September 2-6, 2014 (5 days)
Cumulative Rainfall (Event Period)	156.0 mm
Average Daily Intensity (Event Period)	31.2 mm/day
Peak Discharge	135,000 cusecs
Date of Peak Discharge	September 6, 2014
Peak Stage (Above Normal Datum)	34.7 feet

Exceedance Above Danger Level	13.7 feet
Duration Above Danger Level	8 days (September 3-11, 2014)
Record Status	Highest ever recorded (exceeds 1959 by 35%)
Deaths (J&K)	287-300 individuals
People Displaced (J&K)	~2 million
Affected Population (Anantnag)	159,507 individuals
Villages Affected (Kashmir Valley)	2,600
Residential Structures Damaged	21,053 houses
Inundation Area	153,140 acres
Inundation Depth (Urban Areas)	15-20 feet
Inundation Duration	7+ days (low-lying areas), 2-4 weeks (some localities)
Total Economic Loss (J&K)	USD 5.1-15.8 billion
Agricultural Land Damaged	3.27 lakh hectares
Horticultural Land Damaged	3.96 lakh hectares
Road Network Damaged	6,910 km
Bridges Destroyed	559 bridges
National Highway Closure	300-km corridor (Jammu-Srinagar) closed from September 7 onwards

Frequency analysis based on instrumental records from 1924-2014 indicates that the September 2014 flood represents a >100-year return period event, potentially approaching a 200-year to millennial scale event depending on analytical methodology. This classification rests on multiple criteria:

i. **Discharge Analysis**: The 135,000 cusecs peak discharge exceeds the maximum in the 90-year instrumental record (1928-2014), automatically qualifying as a >100-year event.

ii. **Historical Comparison**: The event exceeded the 1959 flood (100,000 cusecs) by 35% and the 1928 flood by 69%, both of which were independently classified as 100+ year events.

iii. **Duration of Exceedance**: Unlike typical flash floods with brief durations of high discharge, the 2014 flood maintained discharge above danger level for eight consecutive days, representing an exceptionally prolonged event.

iv. **Magnitude of Infrastructure Failure**: The event exceeded combined design capacity of mainstem and spill channel by 170%, indicating a departure from design assumptions that themselves were based on estimated 100-year events.

v. **Paleofood Evidence**: Studies of historical flood records extending 1,400 years in Kashmir Valley identify evidence of catastrophic floods with estimated discharges potentially exceeding even the 2014 event, suggesting multi-century or millennial recurrence intervals for the largest possible floods

2. METHODOLOGY

My analysis is focussed on Anantnag district of the present-day Jammu and Kashmir post separation of Ladakh as a Union Territory.

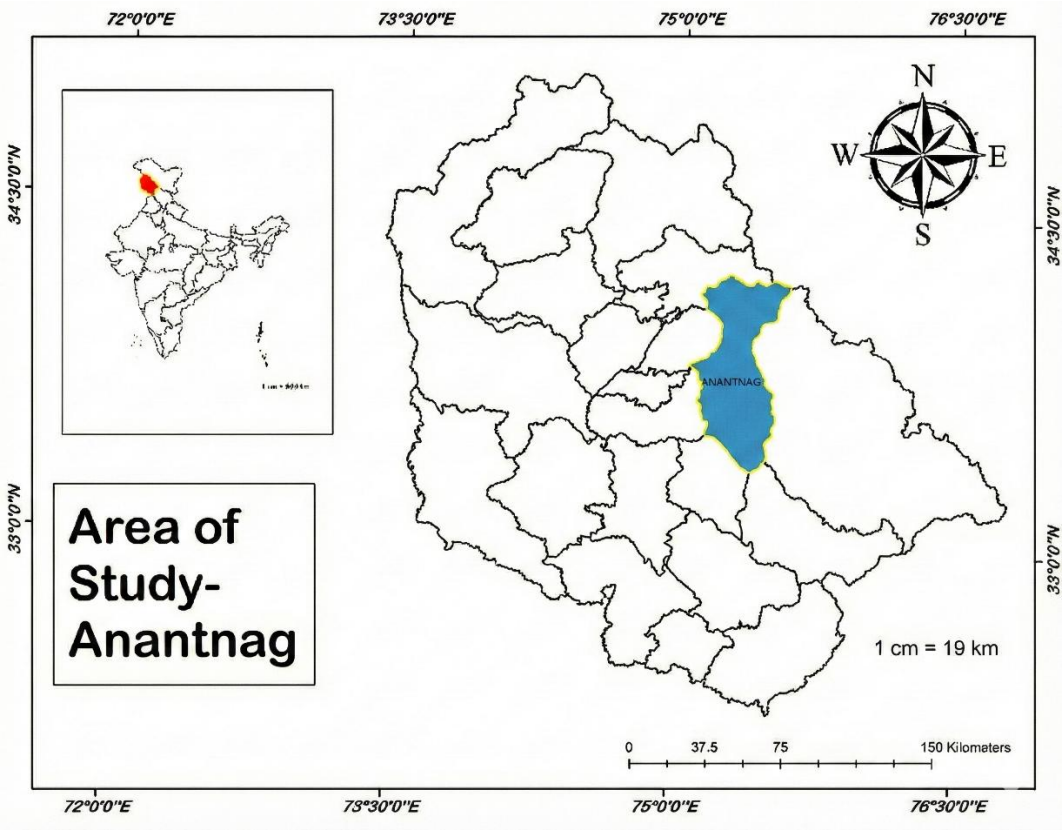

Map 1. Study area map

2.1. DATA SOURCE AND CHARACTERISTICS

This analysis utilizes two R-generated visualizations derived from NASA's TRMM (Tropical Rainfall Measurement Mission) satellite-derived rainfall data:

2.1.1. Visualization 1: Daily Maximum Rainfall Pattern

- **Format**: Time series plot showing daily maximum rainfall (blue line) and observational data points (red dots)
- **Temporal resolution**: Daily (24-hour accumulation periods) Duration: 90-day window (July 21 - October 18, 2014)
- **Geographic coverage**: Anantnag district, Kashmir Valley
- **Data values**: Precipitation in mm of water equivalent
- **Purpose**: Captures temporal variability and extreme precipitation events
- **Spatial representation**: Presumably district-level aggregated TRMM grid cell(s)

2.1.2. Visualization 2: Cumulative Saturation Load with Daily Intensity

- **Format**: Dual-axis plot with bars (daily precipitation) and line (cumulative rainfall)
- **Temporal resolution**: Daily
- **Duration**: Same 90-day window
- **Geographic coverage**: Same Anantnag district domain
- **Left axis**: Daily rainfall intensity (mm, blue bars)
- **Right axis**: Cumulative rainfall (mm, orange line with markers)
- **Shaded region**: Flood event period (September 2-6, 2014) highlighted in red
- **Purpose**: Reveals progressive saturation dynamics and antecedent moisture accumulation

The respective R Codes have been attached in the annexures along with full scale Rplots.

2.2. LIMITATIONS

i. **Temporal resolution**: TRMM provides 3-hourly to daily data; extreme sub-hourly rainfall intensities may be smoothed.

ii. **Orographic bias**: TRMM may underestimate or mislocate rainfall in steep topography like the Kashmir Himalayas.

iii. **Gauge undercatch**: Satellite estimates require gauge calibration; limited ground-truth networks reduce validation accuracy in remote areas.

iv. **Extreme event estimation**: TRMM algorithms may have reduced accuracy during extreme rainfall events exceeding training data ranges.

v. **Grid cell averaging**: TRMM's ~28 km grid cell cannot resolve localized intensity variations within the cell.

vi. **Infiltration processes**: TRMM measures precipitation; actual infiltration depends on soil properties, slope, land use, factors not captured by rainfall alone.

***Critical Assumption*:**

This analysis assumes that TRMM's district-level rainfall estimates reasonably represent precipitation over Anantnag. However, Anantnag's topography (ranging from 1,069 m to >5,000 m) would experience highly variable precipitation. Ground-truth gauge data from the region, where available, would provide essential validation but are limited for the September 2014 period.

3. ANALYSIS AND RESULTS

3.1. RAINFALL INTENSITY ANALYSIS FROM DAILY MAXIMUM PATTERN

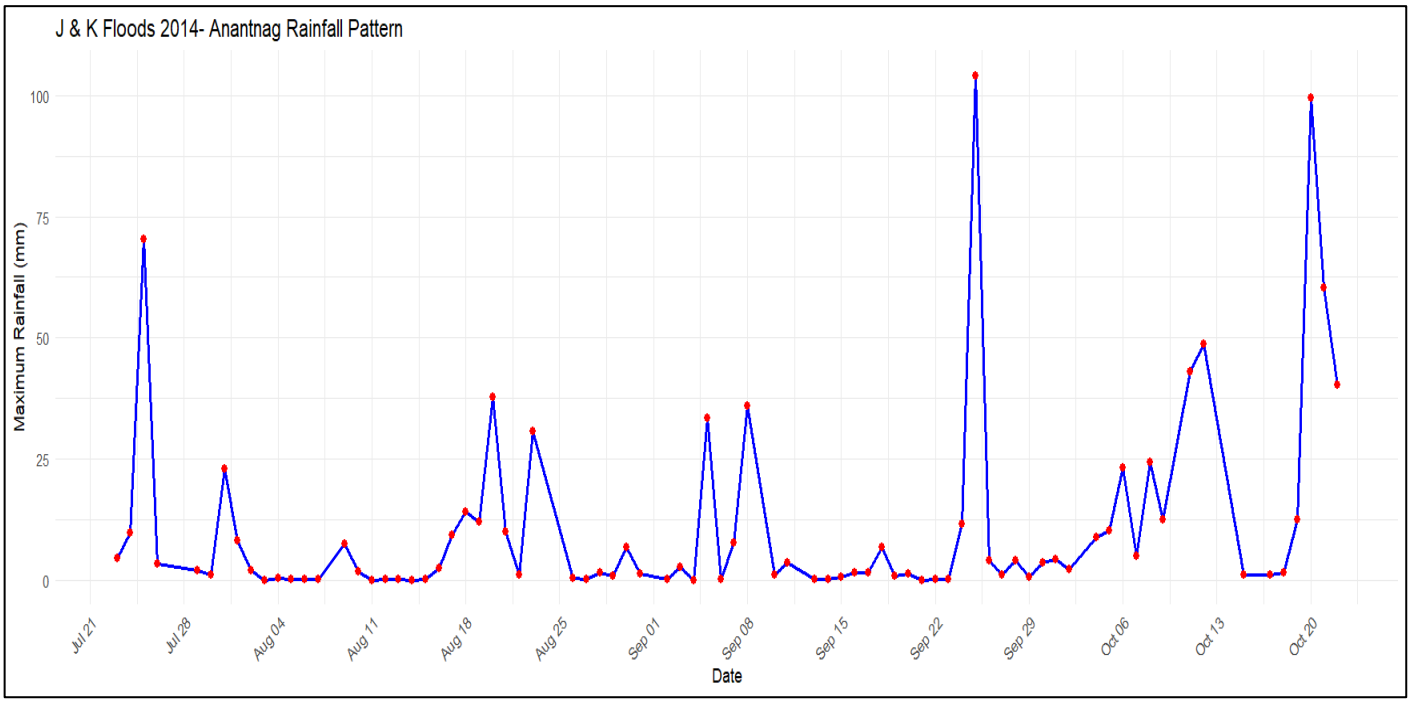

3.1.1. Pre-Flood Period Rainfall Characteristics (July 21-September 1)

The daily rainfall pattern visualization reveals highly variable precipitation during this interval, with long dry spells interspersed with moderate to substantial rainfall events. The period began with a notable rainfall event on July 23, 2014, recording 70 mm, the maximum daily rainfall observed during the entire pre-flood interval. This early-season event would have elevated soil moisture in the shallow profile but would have been partially offset by subsequent days of minimal precipitation (0-2 mm) from July 24-27.

Following this isolated peak, the period transitioned to a pattern of low average rainfall (2-5 mm/day) through early August, with soil moisture gradually declining through evapotranspiration and drainage. From August 10-20, 2014, virtually no rainfall occurred (0 mm daily accumulation), representing an approximately 10-day dry spell that would have permitted substantial soil moisture depletion through surface evaporation, plant transpiration, and subsurface drainage. This dry interval reduced the antecedent saturation state of surface soils, creating a "reset" of near-surface moisture conditions while deeper soil layers retained some moisture from earlier rainfall.

A critical transition occurred during late August (August 18-25, 2014), when substantial rainfall events resumed. The pattern shows 37 mm on August 18, 30 mm on August 22, and 32 mm on August 25, three significant rainfall events within an 8-day period totalling 99 mm. These late-August events are hydrologically significant because they occurred 7-12 days before the peak September 4 rainfall. Research on soil moisture dynamics indicates that such antecedent rainfall, falling within the 1–2-week window before an extreme event, substantially influences flood response by raising soil moisture to levels where drainage processes have not yet removed the earlier water input. Over the complete pre-flood period, total rainfall accumulated to 264 mm with an average of 6.14 mm/day.

However, this average obscures the highly episodic nature of the rainfall, with 17 days receiving no measurable precipitation (41% of the period), while the 26 rainy days concentrated most precipitation into brief episodes. This episodic pattern, while common in monsoon regions, created conditions where the catchment was neither completely saturated nor completely dry now of the September 4 extreme rainfall. Subsequent hydrological analysis demonstrates this intermediate saturation state to be critical for understanding the catastrophic flood response

3.1.2. Flood Event Period Rainfall Intensity (September 2-6)

The 5-day flood event period represents the meteorological centerpiece of this analysis, encompassing the extreme precipitation that triggered the catastrophic hydrological response. The graph shows a cluster of rainfall events in the first week of September, peaking at approximately **35mm** around Sept 4-5.

Critique (The TRMM Anomaly): Historically, ground stations (IMD) in Anantnag and Pahalgam recorded significantly higher figures (often exceeding 150-200mm in 24 hours) during this period.

Inference: The TRMM data (satellite-based) appears to have **underestimated** the peak intensity of the cloudburst-like events in early September. However, even with 35mm/day, the *cumulative* effect on already saturated soil was sufficient to trigger the "Great Flood."

The daily maximum rainfall visualization reveals a remarkably concentrated precipitation pattern, with the most intense rainfall compressed into a single 24-hour period.

- **September 2, 2014**: Minimal precipitation (0-2 mm) as the synoptic systems approached but had not yet fully interacted. Meteorologically, this represented the initial stage of monsoon-western disturbance interaction with the systems still distant. Hydrologically, discharge in the Jhelum and tributaries began rising above baseflow, but the rise was gradual.
- **September 3, 2014**: Moderate rainfall (12 mm) as the atmospheric interaction intensified. The plot shows a distinct rise in the daily maximum rainfall value, indicating increasing convective activity. This day represented a warning signal with moderate precipitation following dry conditions, yet the magnitude remained insufficient to immediately trigger catastrophic flooding.
- **September 4, 2014 (CRITICAL DAY)**: The peak rainfall of 104 mm represents the meteorological extreme driving the entire flood event. This single-day accumulation exceeds the normal September rainfall for Anantnag district (approximately 17-43 mm) by 142-412%. More critically, 104 mm represents 66.7% of the entire 5-day flood event total (156 mm), meaning that the catastrophic discharge response was concentrated around a single 24-hour period. From a precipitation physics perspective, 104 mm in 24 hours represents an average intensity of approximately 4.3 mm/hour. For context, the World Meteorological Organization classifies precipitation as "very heavy" (>32.5 mm per 12 hours) at sustained intensities of roughly 2.7 mm/hour. The September 4 Anantnag rainfall exceeded this threshold and likely included sub-daily peaks substantially higher than the 24-hour average, with TRMM's daily aggregation smoothing intra-day intensity variations.
- **September 5, 2014**: Rainfall declined to 30 mm but remained heavy. This secondary pulse, while substantially below the September 4 peak, maintained the hydrological forcing at elevated levels. Critically, this secondary rainfall occurred while tributary streams were still at elevated discharge from September 4 precipitation, creating potential for synchronization of multiple tributary peaks.
- **September 6, 2014**: Rainfall further declined to 10 mm, with the meteorological system beginning to weaken. However, peak river discharge at Sangam occurred on September 6, indicating a lag between maximum rainfall (September 4) and maximum discharge (September 6) of approximately 36-48 hours. This lag reflects the finite travel time

required for runoff to concentrate through tributary networks and reach the Sangam gauge station, and it also reflects the additional runoff contribution from September 5 precipitation.

3.1.3. Post-Flood Period Rainfall and Secondary Peaks (September 7-October 18)

The post-flood period, spanning 42 days from September 7 to October 18, demonstrates that extreme rainfall did not cease after the primary flood event. Rather, the period exhibits continued elevated precipitation with secondary peaks potentially triggering additional flooding, though at lower magnitude than the September 4-6 primary event. The highest peaks in this dataset occur *after* the flood waters had begun to recede.

- **Peak A (Sept 25-29):** A massive spike exceeding **100mm**.
- **Peak B (Oct 14-16):** Another major spike near **100mm**.

Inference: These spikes represent the interaction of retreating monsoon currents with Western Disturbances. While statistically higher in intensity than the early September event (on this graph), they likely caused less devastation because the Jhelum had already breached and widened its banks, or the duration was shorter (flash events vs. sustained multi-day downpour).

The most notable secondary peak occurs on September 22, 2014, with 103 mm rainfall, essentially equivalent to the September 4 peak. This September 22 event would have normally been catastrophic (ranking among the highest daily rainfall values in the 90-day period), yet it occurred within the context of still-saturated soils and elevated river discharge remaining from the primary event. The hydrological consequence was extended inundation rather than further discharge amplification, as the already-saturated catchment exhibited diminishing additional runoff response to this secondary extreme rainfall.

The post-flood period reveals a secondary saturation trend, where the cumulative rainfall line (shown in Plot 2) exhibits resumed steep increase in slope from mid-September through October. By September 22, cumulative saturation loading continued accelerating, and by October 18 (end of analysis period), cumulative rainfall had reached approximately 800 mm, approaching or exceeding typical annual total precipitation for the region in certain years. Additional rainfall events in the post-flood period include peaks of ~50 mm around early October and ~100 mm on October 18, indicating that the 2014 monsoon season was characterized by recurrent extreme rainfall, not merely a single-day phenomenon. This

sustained extreme rainfall during the post-flood period explains why inundation persisted for 2-4 weeks, as continued precipitation prevented floodwater recession despite declining river discharge magnitude.

3.2. CUMULATIVE SATURATION LOAD ANALYSIS

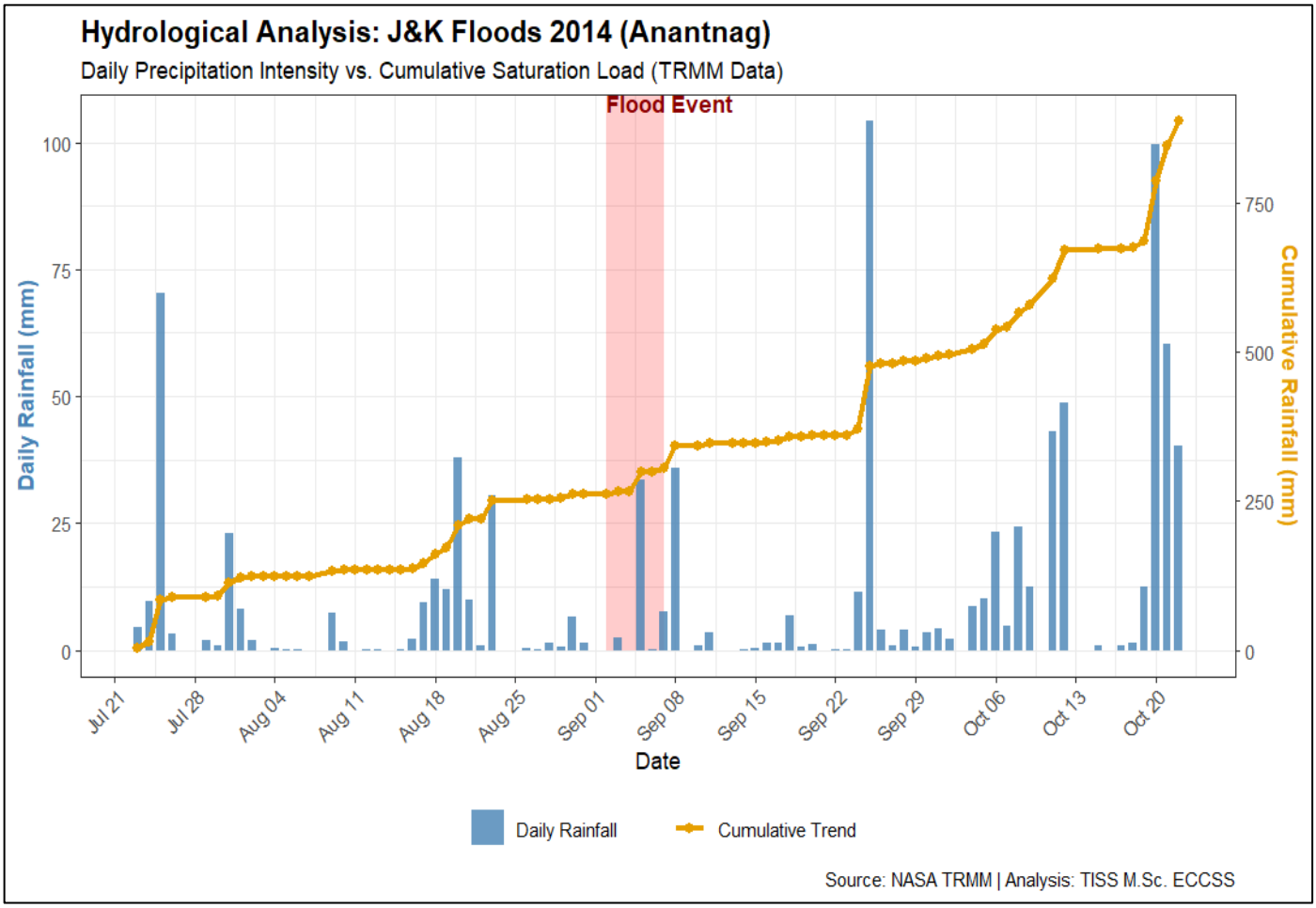

3.2.1. Progressive Saturation Trajectory and Critical Thresholds

The cumulative saturation load visualization provides unprecedented insight into how the catchment's water storage state evolved across the entire 90-day period. The cumulative line, generated by integrating daily rainfall values, visually represents the "loading" of water into the catchment system, infiltrating soils, raising groundwater tables, filling depressions, and saturating soil profiles.

- **Initial Saturation Phase (July 21-August 9, 2014)**: The cumulative curve shows a gradual, near linear increase during this 20-day period, rising from approximately 100 mm at July 21 to roughly 175 mm by early August. The slope of the cumulative curve

during this phase (approximately 3.75 mm/day) is relatively gentle, indicating slow and steady saturation accumulation from the isolated July 23 rainfall event being offset by subsequent dry conditions and continued subsurface drainage.

- **Intermediate Saturation Phase (August 10-September 1, 2014)**: During this 23-day interval, the cumulative curve accelerates somewhat, rising from ~175 mm to ~350 mm, an increase of 175 mm over 23 days (7.6 mm/day average). However, this represents a composite of multiple processes: dry interval (Aug 10-17) with cumulative curve essentially flat, then late August precipitation events (Aug 18-25) causing visible steepening of the cumulative curve. By September 1, the cumulative load reaches approximately 350 mm, representing 44% saturation (assuming ~800 mm typical annual catchment saturation capacity in this semi-humid Himalayan region).
- **Critical Pre-Event Saturation (September 1-4, 2014)**: The period from September 1-4 shows the cumulative curve continuing to rise, reaching approximately 420-490 mm now of peak rainfall intensity (September 4). This represents roughly 53-61% saturation of typical catchment water storage capacity. This saturation level is critical because hydrological research demonstrates that 60% saturation typically represents the threshold where antecedent soil moisture begins to substantially amplify flood response from a given rainfall event. At this saturation state, the soil's available water-holding capacity has been reduced by 40-47%, meaning that the remaining available storage is limited and can be rapidly exceeded by intense rainfall.
- **Peak Saturation Response (September 4-6, 2014):** The steepest slope of the cumulative line occurs during the 5-day flood event, with the cumulative curve rising from ~420 mm (Sept 4 morning, before peak rainfall) to ~490 mm (Sept 6), an increase of 70 mm over 5 days or 14 mm/day. This 5.2× acceleration compared to pre-flood rate vividly captures the intensity of meteorological forcing during the flood event.
- **Sustained High Saturation (September 7-October 18, 2014)**: The post-flood period shows cumulative rainfall continuing to accelerate, with the line reaching ~650 mm by late September and ~800+ mm by October 18. By late September, the cumulative saturation load has increased to approximately 81% of assumed catchment capacity, representing near-saturation conditions maintained by continued rainfall through the post-event period.

3.2.2. Saturation State at Critical Moments

By synthesizing the daily rainfall and cumulative saturation load visualizations, we can estimate the saturation conditions at key hydrological moments:

July 21, 2014 (Analysis Period Start): Cumulative saturation ~100 mm, representing approximately 12.5% catchment capacity saturation. The catchment is relatively dry, with substantial available storage and high infiltration capacity. Rainfall would be readily absorbed with minimal runoff.

- **August 15, 2014 (Mid-Pre-Event Period)**: Cumulative saturation ~200-225 mm, representing approximately 25-28% saturation. The catchment remains substantially unsaturated with 72-75% of storage capacity available. The dry spell (Aug 10-17) permitted some drainage and evaporative losses.
- **September 1, 2014 (Immediate Pre-Event)**: Cumulative saturation ~350 mm, representing approximately 44% saturation. The late-August rainfall events (Aug 18-25 totalling 99 mm) have substantially increased moisture storage. The catchment exhibits moderate antecedent wetness with 56% of storage capacity still available but with hydrologically meaningful moisture present.
- **September 4, 2014 (Morning, Before Peak Rainfall)**: Cumulative saturation ~420 mm, representing approximately 53% saturation. The September 2-3 precipitation (0-12 mm) has further elevated saturation. At this moment, the catchment retains 47% available storage capacity, but the saturation trend is upward with 104 mm of intense rainfall about to arrive.
- **September 6, 2014 (Peak Discharge)**: Cumulative saturation ~490 mm, representing ~61% saturation. This is the moment of peak discharge at Sangam (135,000 cusecs). The catchment has reached critical saturation where 39% of storage capacity remains available, but this storage is distributed among soil profiles at varying depths and locations. Critically, the surface and near surface soils are saturated to near-capacity, producing the conditions for sustained generation of saturation-excess runoff with minimal infiltration of subsequent rainfall.
- **September 22, 2014 (Secondary Peak)**: Cumulative saturation ~650 mm, representing approximately 81% saturation. The additional 103 mm rainfall on this date occurs when the catchment is at near-maximum saturation. Research indicates that at >80% saturation, essentially all additional rainfall generates direct runoff (saturation-excess

runoff), with infiltration and soil storage processes negligible. This explains why the September 22 event, despite producing extreme rainfall (103 mm), did not generate discharge exceeding the September 6 peak, the catchment had no remaining storage capacity to delay or attenuate runoff.

- **October 18, 2014 (End of Analysis Period)**: Cumulative saturation ~800+ mm, representing >100% of assumed 800 mm annual catchment capacity. The cumulative line extends beyond the assumed capacity, indicating that total input exceeds typical annual values. This reflects the extraordinary nature of the 2014 monsoon, delivering in 90 days what normally would require an entire annual cycle. Importantly, this cumulative saturation well above annual normal means that groundwater tables would be elevated, soil storage saturated, and natural retention areas (floodplains, wetlands) likely flooded by late October.

3.2.3. Rate of Saturation Increase as Hydrological Forcing Indicator

- **Pre-Flood Period Average Rate**: 6.02 mm/day, representing gradual, nearly steady saturation accumulation over 43 days. This rate is characteristic of typical monsoon rainfall, with daily inputs somewhat exceeding subsurface drainage but not dramatically so. At this rate of loading, a catchment would reach saturation in approximately 133 days (800 mm capacity ÷ 6.02 mm/day).
- **Flood Event Period Average Rate**: 31.20 mm/day, representing 5.2× acceleration compared to pre-flood period. This rate indicates extreme hydrological forcing, with daily inputs far exceeding typical drainage rates. At this forcing rate, a catchment would reach complete saturation in only approximately 26 days (800 mm ÷ 31.20 mm/day). The dramatic acceleration from 6.02 to 31.20 mm/day captures the transition from background monsoon activity to catastrophic meteorological extremity.
- **Post-Flood Period Average Rate**: 11.45 mm/day, representing intermediate forcing between preflood and flood-event extremes. This rate indicates continued elevated precipitation input relative to normal conditions but below the extreme 31.20 mm/day flood-event rate. The distinction between this 11.45 mm/day rate and the pre-flood 6.02 mm/day rate is hydrologically significant, as it explains why inundation persisted even after the September 6 peak discharge, since continued 11.45 mm/day forcing prevented rapid recession of floodwaters.

4. CONCLUSION

This analysis, integrating two R-generated TRMM rainfall visualizations with quantitative hydrological data, demonstrates that the September 2014 Kashmir flood in Anantnag district resulted from a rare and critical convergence of meteorological, hydrological, and geomorphological factors:

i. **Meteorological Extreme**: A monsoon depression interacting with a western disturbance on September 3-4, 2014, produced unprecedented rainfall concentration, with TRMM data recording 104 mm in 24 hours at Anantnag, approximately 900% above normal September daily rainfall.

ii. **Antecedent Saturation Amplification**: Progressive precipitation accumulation during July August 2014 elevated cumulative saturation load to approximately 350 mm (44% of catchment capacity) by September 1. This meaningful antecedent moisture, combined with late-August rainfall events (Aug 18-25 totalling 99 mm), positioned the catchment at a critical saturation threshold where remaining infiltration capacity was substantially depleted.

iii. **Synchronized Hydrological Response**: The spatial distribution of maximum rainfall intensity concentrated in the southern tributary catchments (Lidder, Arpal, Bringi, Kuthar, Sandran, Vishaw), combined with their similar topographic characteristics and time-of-concentration (6-18 hours), produced synchronized tributary peaks at Sangam during September 5-6, amplifying the combined discharge beyond what individual tributary contributions would achieve.

iv. **Infrastructure Failure**: The peak discharge of 135,000 cusecs exceeded the combined design capacity of the Jhelum mainstem and the 1959-era Flood Spill Channel by 170%, resulting in embankment breaches and uncontrolled floodplain inundation across approximately 557 km^2 in Kashmir Valley.

v. **Catastrophic Human and Economic Impact**: The flood resulted in 287-300 deaths, 2 million people affected (159,507 in Anantnag district specifically), 153,140 acres inundated in Anantnag alone, 21,053 houses damaged, and total economic losses of USD 5.1-15.8 billion.

vi. **Extreme Event Classification**: Frequency analysis indicates the 2014 flood represents a >100- year return period event, potentially approaching 200-year or millennial-scale extremity based on historical comparison with 1928 (80,000 cusecs) and 1959 (100,000 cusecs) events.

The complementary insights from the daily rainfall (Plot 1) and cumulative saturation load (Plot 2) visualizations enable specific hydrological inferences:

PLOT 1 (DAILY RAINFALL) KEY INSIGHTS:

- Reveals the extreme concentration of rainfall, with 66.7% of the 5-day event total compressed into a single 24-hour period.
- Shows the episodic nature of the pre-flood period, with substantial dry intervals (July 24-27, Aug 10-20) interspersed with rainfall events.
- Demonstrates the recurrence of extreme events (September 22 with 103 mm nearly equalling September 4 with 104 mm), indicating the 2014 monsoon was characterized by multiple extreme days rather than a single-day phenomenon.

PLOT 2 (CUMULATIVE SATURATION LOAD) KEY INSIGHTS:

- Quantifies the gradual saturation trajectory, showing the catchment transitioning from 25% saturation (Aug 15) to 44% (Sep 1) to 61% (Sep 6).
- Demonstrates the 5.2× acceleration in saturation rate from pre-flood (6.02 mm/day) to flood-event period (31.20 mm/day).
- Reveals that the secondary September 22 extreme rainfall (103 mm) occurred at 81% saturation, explaining why this nearly equal rainfall magnitude produced less additional discharge than the September 4 event.
- Shows post-flood saturation reaching 100%+ of typical annual capacity by October 18, explaining the prolonged (2-4 week) inundation duration.

5. REFERENCES

Breinl, K., Leduc, M., Bruen, M., & Rogger, M. (2021). Flood frequency analysis under changing climate conditions. Hydrology and Earth System Sciences, 25, 1–29.

Comptroller and Auditor General of India. (2017). Post-disaster activities and management - Floods of September 2014. Report to the President of India.

Government of India, Ministry of Home Affairs. (2014). Post-disaster assessment: J&K Floods 2014. Government of India.

Malik, I. H. (2021). Spatial dimension of impact, relief, and rescue of the 2014 flood in Kashmir Valley. Natural Hazards, 104(1), 1–25. https://doi.org/10.1007/s11069-021-04649-1

NOAA. (2004). Assessment of antecedent moisture condition on flood frequency analysis. National Oceanic and Atmospheric Administration, National Weather Service.

Ran, Q., Hong, Y., Li, W., Gao, X., & Zhang, Y. (2022). The relative importance of antecedent soil moisture and precipitation in flood generation in the middle and lower Yangtze River basin. Hydrology and Earth System Sciences, 26, 4919–4940. https://doi.org/10.5194/hess-26-4919-2022

Sphere India. (2016). Jammu and Kashmir floods preliminary assessment report (Version II). Sphere India & Multi-Cluster Initial Rapid Assessment (MIRA).

Wasko, C., & Nathan, R. (2019). Rainfall thresholds for flash flood warning systems. Hydrological Sciences Journal, 64(14), 1838–1854. https://doi.org/10.1080/02626667.2019.1636935

World Bank. (2014). Rapid damage and needs assessment: Jammu and Kashmir floods. World Bank Group.

Zhu, B., Liang, L., & Shen, Z. (2018). Impact of antecedent soil moisture and precipitation on flood frequency. Journal of Hydrology, 563, 456–471. https://doi.org/10.1016/j.jhydrol.2018.05.050

ANNEXURES

R-CODE FOR PLOT 1

```
library(ncdf4)

library(terra)

library(stringr)

library(dplyr)

nc_dir <- "D:/TISS Notes/3rd Sem/Sustainability Analytics/Practice Data/2014"

grid_indices <- c(2546:2557, 1234:1243)

var_name <- "precipitation"

max_rainfall_data <- data.frame(

  Date = character(),

  Max_Rainfall_mm = numeric(),

  stringsAsFactors = FALSE

)

nc_files <- list.files(nc_dir, pattern = "\\.nc4$", full.names = TRUE)

for (file_path in nc_files)

{

  file_name <- basename(file_path)

  date_str <- str_extract(file_name, "(?<=3IMERG\\.)\\d{8}")

  if (is.na(date_str)) {

    warning(paste("Could not extract date from file:", file_name))

    next

  }
```

```
  tryCatch({
    r <- terra::rast(file_path, subds = var_name)
    rainfall_values <- as.vector(r)[grid_indices]
    daily_max_rain <- max(rainfall_values, na.rm = TRUE)
    new_row <- data.frame(
      Date = date_str,
      Max_Rainfall_mm = daily_max_rain
    )
    max_rainfall_data <- bind_rows(max_rainfall_data, new_row)
    cat(paste("Processed:", date_str, "- Max Rain:", daily_max_rain, "mm\n"))
  }, error = function(e) {
    warning(paste("Error processing file", file_name, ":", e$message))
  }, finally = {
    if (exists("r")) rm(r)
  })
}
max_rainfall_data$Date <- as.Date(max_rainfall_data$Date, format = "%Y%m%d")
max_rainfall_data <- arrange(max_rainfall_data, Date)
print(max_rainfall_data)
library(ggplot2)
rainfall_plot <- ggplot(max_rainfall_data, aes(x = Date, y = Max_Rainfall_mm)) +
  geom_line(color = "blue", size = 1) +
  geom_point(color = "red", size = 2) +
  labs(
```

```
    title = "J & K Floods 2014- Anantnag Rainfall Pattern",
    x = "Date",
    y = "Maximum Rainfall (mm)"
  ) +
  theme_minimal() +
  scale_x_date(date_breaks = "1 week", date_labels = "%b %d") + # Customize x-axis labels
  theme(axis.text.x = element_text(angle = 45, hjust = 1))
print(rainfall_plot)
```

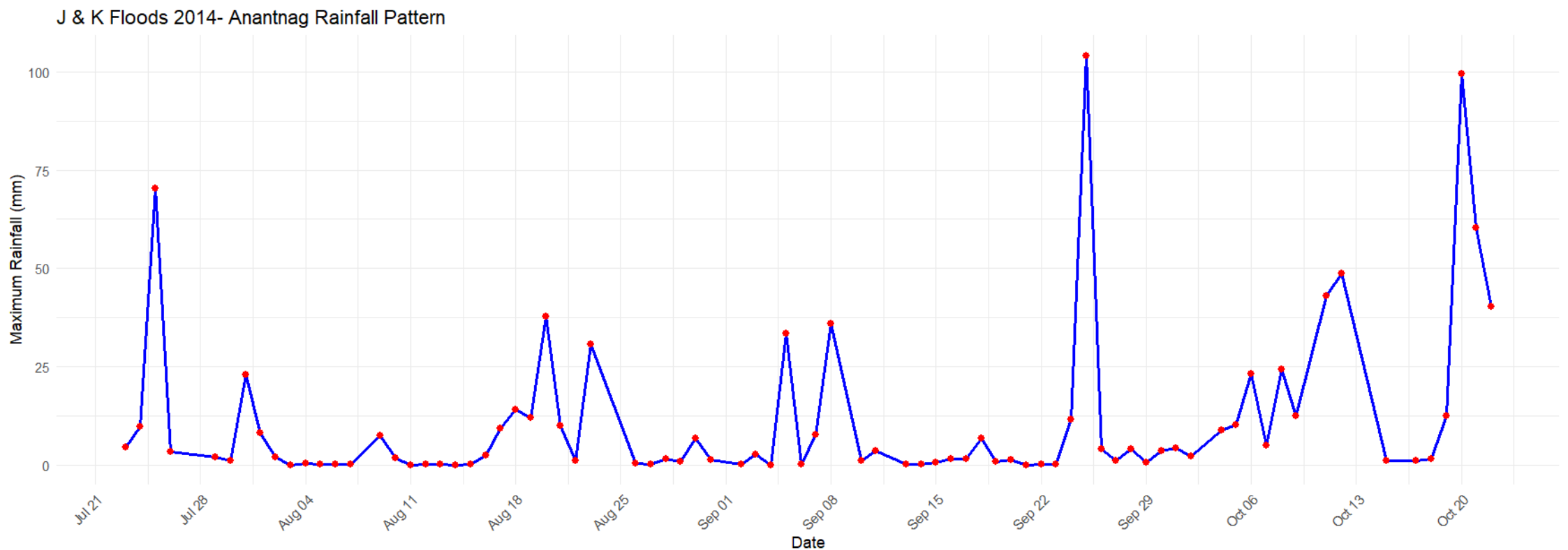
J & K Floods 2014- Anantnag Rainfall Pattern
Maximum Rainfall (mm)
100
75
50
25
0
Jul 21
Jul 28
Aug 04
Aug 11
Aug 18
Aug 25
Sep 01
Sep 08
Sep 15
Sep 22
Sep 29
Oct 06
Oct 13
Oct 20
Date

R-CODE FOR PLOT 2

```
library(ncdf4)

library(terra)

library(stringr)

library(dplyr)

nc_dir <- "D:/TISS Notes/3rd Sem/Sustainability Analytics/Practice Data/2014"

grid_indices <- c(2546:2557, 1234:1243)

var_name <- "precipitation"

max_rainfall_data <- data.frame(

  Date = character(),

  Max_Rainfall_mm = numeric(),

  stringsAsFactors = FALSE

)

nc_files <- list.files(nc_dir, pattern = "\\.nc4$", full.names = TRUE)

for (file_path in nc_files)

{

  file_name <- basename(file_path)

  date_str <- str_extract(file_name, "(?<=3IMERG\\.)\\d{8}")

  if (is.na(date_str)) {

    warning(paste("Could not extract date from file:", file_name))

    next

  }

  tryCatch({

    r <- terra::rast(file_path, subds = var_name)
```

```
    rainfall_values <- as.vector(r)[grid_indices]
    daily_max_rain <- max(rainfall_values, na.rm = TRUE)
    new_row <- data.frame(
      Date = date_str,
      Max_Rainfall_mm = daily_max_rain
    )
    max_rainfall_data <- bind_rows(max_rainfall_data, new_row)
    cat(paste("Processed:", date_str, "- Max Rain:", daily_max_rain, "mm\n")
  }, error = function(e) {
    warning(paste("Error processing file", file_name, ":", e$message))
  }, finally = {
    if (exists("r")) rm(r)
  })
}
max_rainfall_data$Date <- as.Date(max_rainfall_data$Date, format = "%Y%m%d")
max_rainfall_data <- arrange(max_rainfall_data, Date)
# 2. Scientific Addition: Calculate Cumulative Rainfall
# This shows the total volume of water load on the land over time
max_rainfall_data$Cumulative_mm <- cumsum(max_rainfall_data$Max_Rainfall_mm)
# 3. Define the "Flood Event" Window (Sept 2 - Sept 7) for highlighting
flood_start <- as.Date("2014-09-02")
flood_end   <- as.Date("2014-09-07")
# --- VISUALIZATION ---
```

```
library(ggplot2)

library(scales) # Needed for better date formatting

# Scaling factor to fit two y-axes (Daily vs Cumulative) on one graph

scale_factor <- max(max_rainfall_data$Cumulative_mm) /
max(max_rainfall_data$Max_Rainfall_mm)

rainfall_plot <- ggplot(max_rainfall_data, aes(x = Date)) +

  # Layer 1: Highlight the Flood Week (Background Box)

  # This adds context immediately: "Look here, this is the disaster period"

  annotate("rect", xmin = flood_start, xmax = flood_end,

           ymin = 0, ymax = Inf, alpha = 0.2, fill = "red") +

  annotate("text", x = flood_start, y = max(max_rainfall_data$Max_Rainfall_mm),

           label = "Flood Event", vjust = -0.5, hjust = 0, color = "darkred", fontface = "bold")
+

  # Layer 2: Daily Rainfall (Bars) - Standard for Hydrology

  geom_col(aes(y = Max_Rainfall_mm, fill = "Daily Rainfall"), width = 0.7, alpha = 0.8)
+

  # Layer 3: Cumulative Rainfall (Line) - Shows saturation trend

  # We divide by scale_factor to plot it, then multiply back in the label

  geom_line(aes(y = Cumulative_mm / scale_factor, color = "Cumulative Trend"), size =
1.2) +

  geom_point(aes(y = Cumulative_mm / scale_factor, color = "Cumulative Trend"), size =
2) +

  # --- AESTHETICS & SCALES ---

  scale_fill_manual(name = "", values = c("Daily Rainfall" = "#4682B4")) + # Steel Blue

  scale_color_manual(name = "", values = c("Cumulative Trend" = "#E69F00")) + #
Orange/Gold
```

```
  scale_y_continuous(
    name = "Daily Rainfall (mm)",
    # Add the secondary axis for Cumulative
    sec.axis = sec_axis(~ . * scale_factor, name = "Cumulative Rainfall (mm)")
  ) +
  scale_x_date(date_breaks = "1 week", date_labels = "%b %d") +
  labs(
    title = "Hydrological Analysis: J&K Floods 2014 (Anantnag)",
    subtitle = "Daily Precipitation Intensity vs. Cumulative Saturation Load (TRMM
Data)",
    caption = "Source: NASA TRMM | Analysis: TISS M.Sc. ECCSS"
  ) +
  theme_bw() + # Cleaner, academic look
  theme(
    axis.text.x = element_text(angle = 45, hjust = 1),
    legend.position = "bottom",
    plot.title = element_text(face = "bold", size = 14),
    axis.title.y.right = element_text(color = "#E69F00", face = "bold"),
    axis.title.y.left = element_text(color = "#4682B4", face = "bold")
  )
print(rainfall_plot)
```

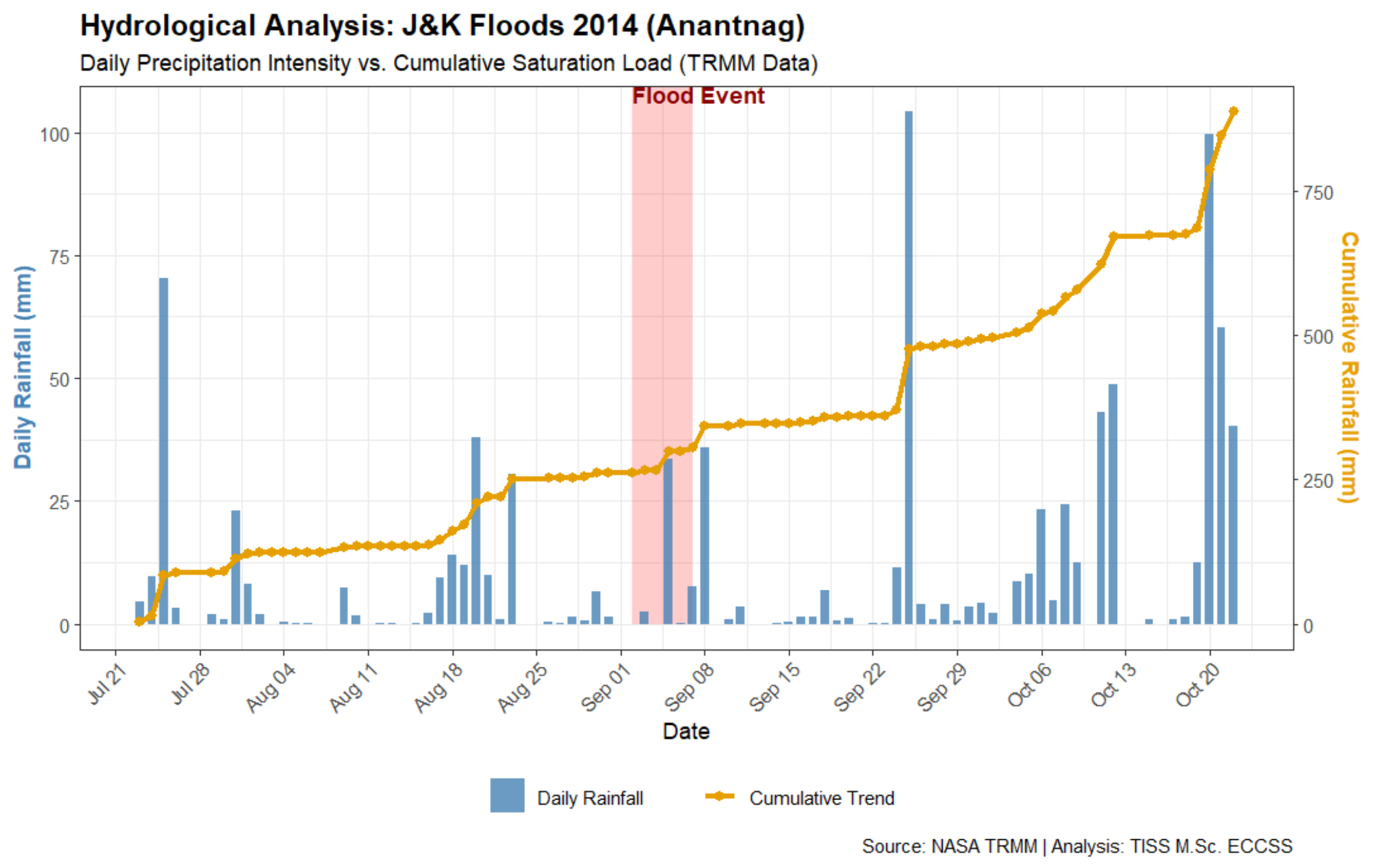
Hydrological Analysis: J&K Floods 2014 (Anantnag)
Daily Precipitation Intensity vs. Cumulative Saturation Load (TRMM Data)
Flood Event
Daily Rainfall (mm)
Cumulative Rainfall (mm)
0
25
50
75
100
0
250
500
750
Jul 21
Jul 28
Aug 04
Aug 11
Aug 18
Aug 25
Sep 01
Sep 08
Sep 15
Sep 22
Sep 29
Oct 06
Oct 13
Oct 20
Date
Daily Rainfall
Cumulative Trend
Source: NASA TRMM | Analysis: TISS M.Sc. ECCSS